LRO-NAC

Processed on: 2025-10-10 17:25:55

ASP version: 3.6.0-alpha

asp_plot version: 1.8.0

DEM Summary

Property	Value
DEM File	run-DEM.tif
Dimensions (px)	906 x 910
GSD (m)	1.06
CRS	EPSG:None
Nodata (%)	4.7
Elevation Range (m)	188.5 to 338.9

Input Scenes



Figure 1: Left and right input scenes used for stereo processing.

Match Points

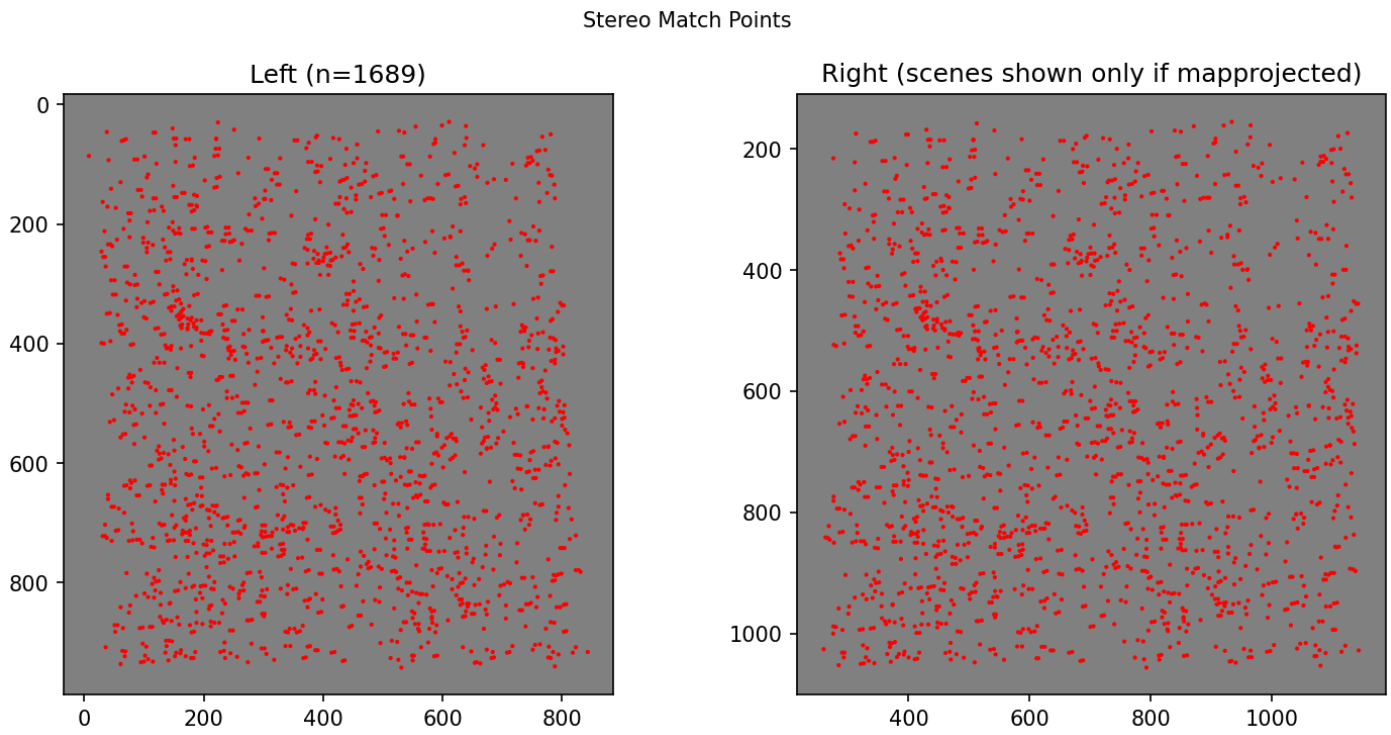

Figure 2: Interest point matches between left and right images identified during stereo correlation.

Detailed Hillshade



Figure 3: DEM hillshade with 0.1 km detail subset in second row. If available, corresponding mapprojected ortho image subsets are displayed in the bottom row.

DEM Results

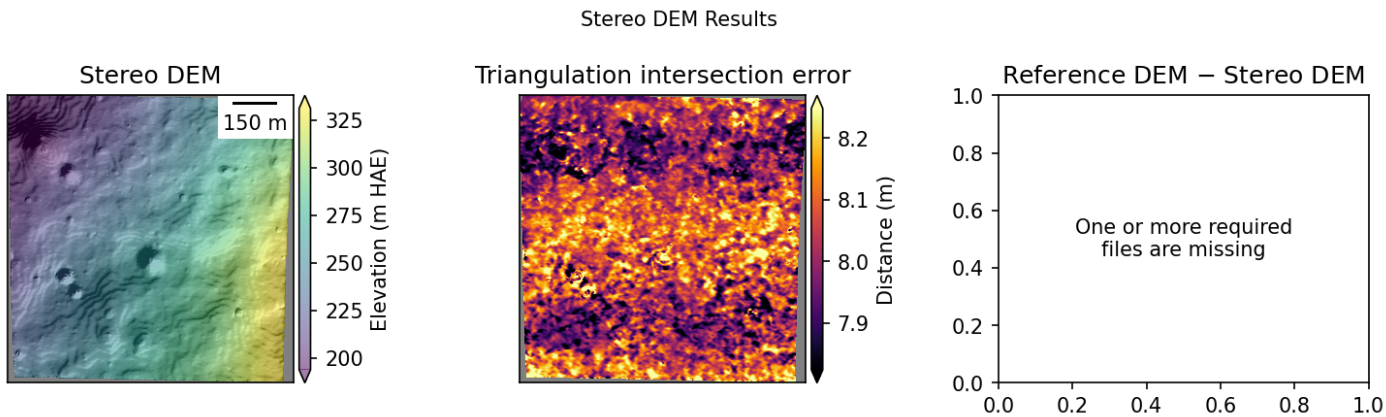

Figure 4: Output DEM with intersection error map and difference relative to the reference DEM used in processing.

Disparity

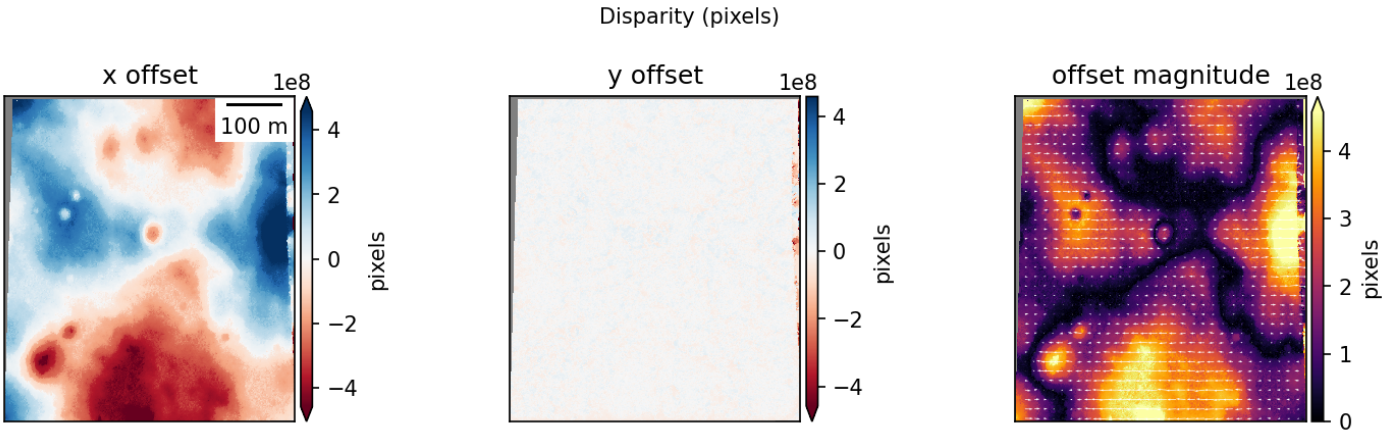

Figure 5: Horizontal and vertical disparity maps in pixels with quiver overlay.

Processing Parameters

Runtime Summary

Step	Runtime
Bundle Adjust	N/A
Stereo	0 hours and 3 minutes
point2dem	0 hours and 0 minutes

Bundle Adjust Command:

```
Bundle adjustment not run
```

Stereo Command:

```
stereo M181058717LE_crop.cub M181073012LE_crop.cub M181058717LE.json M181073012LE.json --alignment-method local_epipolar
--stereo-algorithm asp_mgm --subpixel-mode 9 run/run --left-image-crop-win 2259 1196 900 973 --right-image-crop-win 2432
1423 1173 1218 --corr-seed-mode 1 --sgm-collar-size 128 --compute-point-cloud-center-only --threads 8
```

point2dem Command:

```
point2dem --auto-proj-center --errorimage run/run-PC.tif --orthoimage run/run-L.tif
```

Report Generation Command:

```
asp_plot --directory /Users/ben/Dropbox/UW_Shean/asp_plot-
test_data/docs_examples/docs_sect_4_1_lunar_LRO_NAC/LRONAC_example --stereo_directory run/ --add_basemap False
--plot_icesat False --plot_geometry False --subset_km 0.1 --report_filename LRO_NAC-asp-plot-report.pdf --report_title
LRO-NAC
```