docs_sect_4_2_mars_MOC

Processed on: 2025-10-19 11:20:03

ASP version: 3.6.0-alpha

asp_plot version: 1.7.0

DEM Summary

Property	Value
DEM File	output-DEM.tif
Dimensions (px)	1538 x 5365
GSD (m)	3.41
CRS	EPSG:None
Nodata (%)	46.0
Elevation Range (m)	-10531.1 to -9967.6

Input Scenes

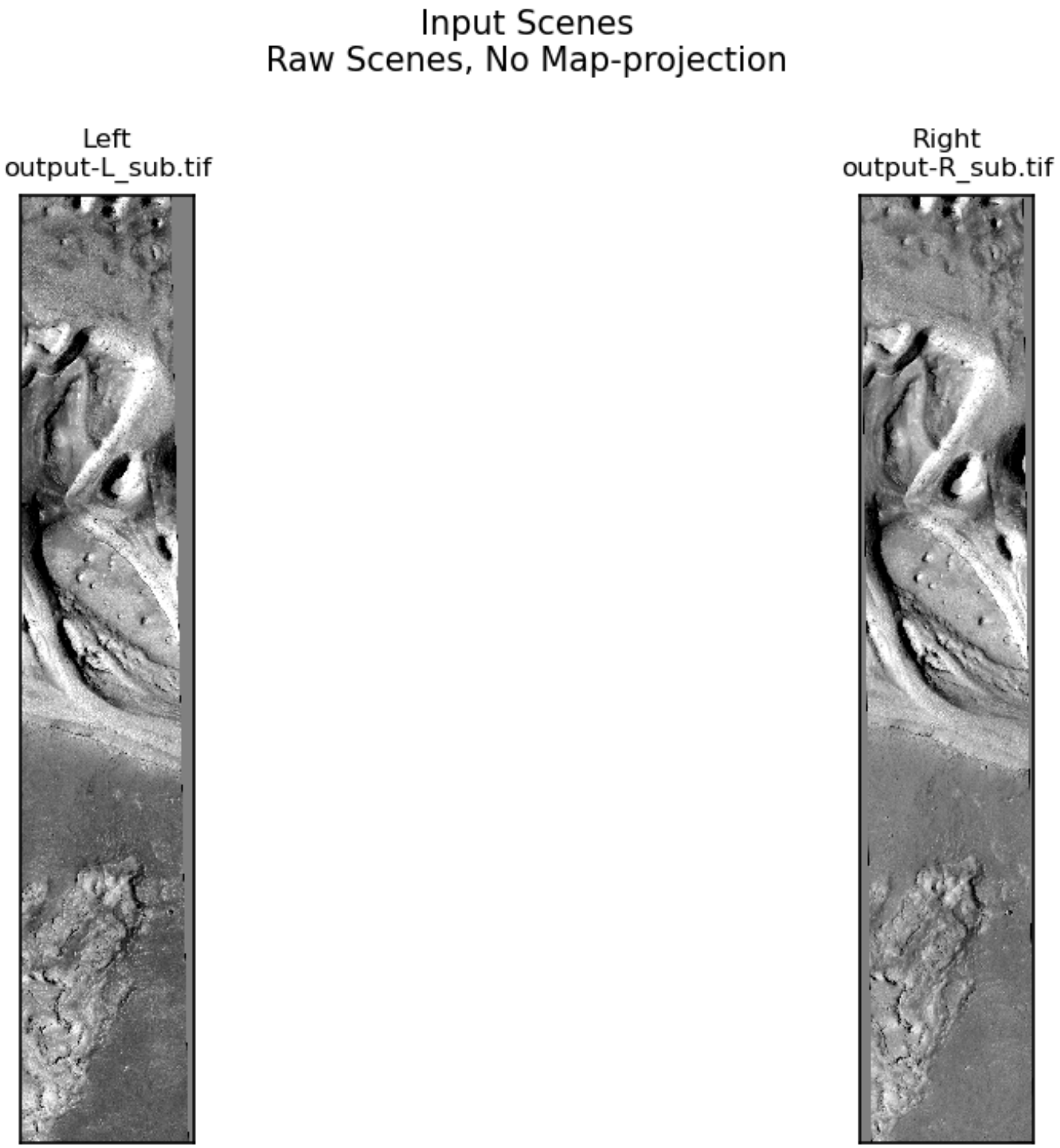

Figure 1: Left and right input scenes used for stereo processing.

Match Points

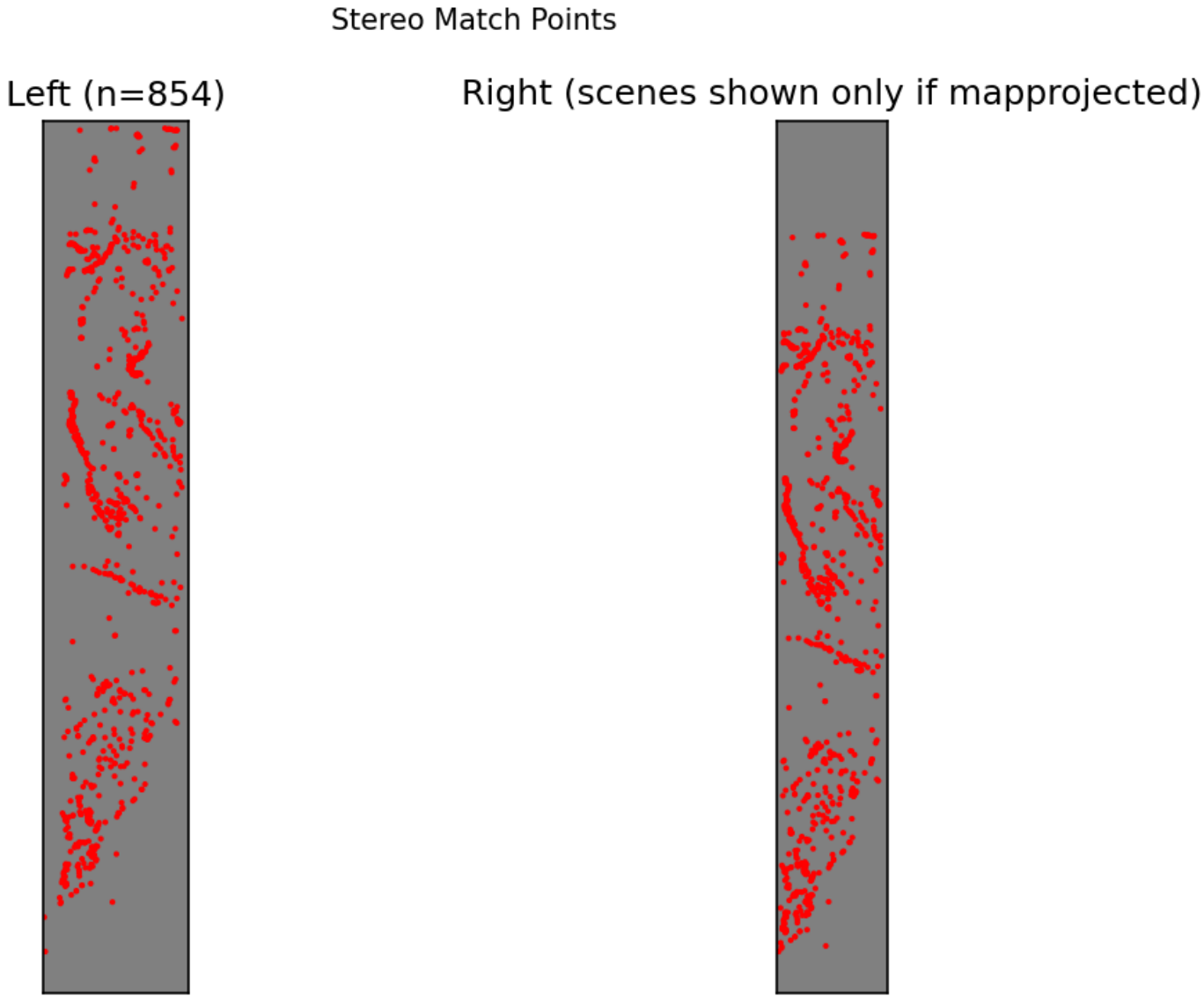

Figure 2: Interest point matches between left and right images identified during stereo correlation.

Detailed Hillshade

Hillshade with details

Hillshade with details



Figure 3: DEM hillshade with 0.1 km detail subset in second row. If available, corresponding mapprojected ortho image subsets are displayed in the bottom row.

DEM Results

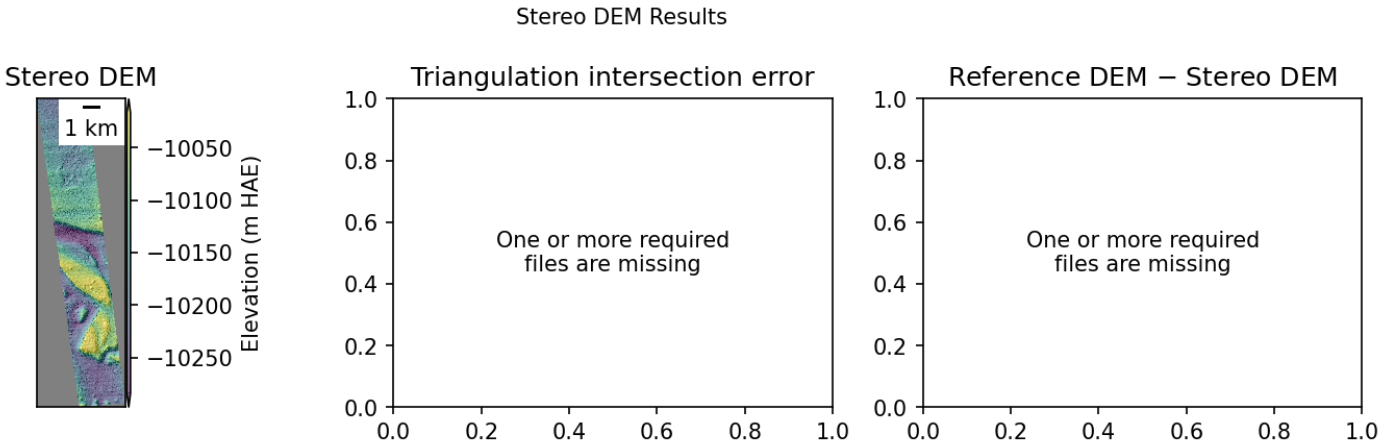

Figure 4: Output DEM with intersection error map and difference relative to the reference DEM used in processing.

Disparity

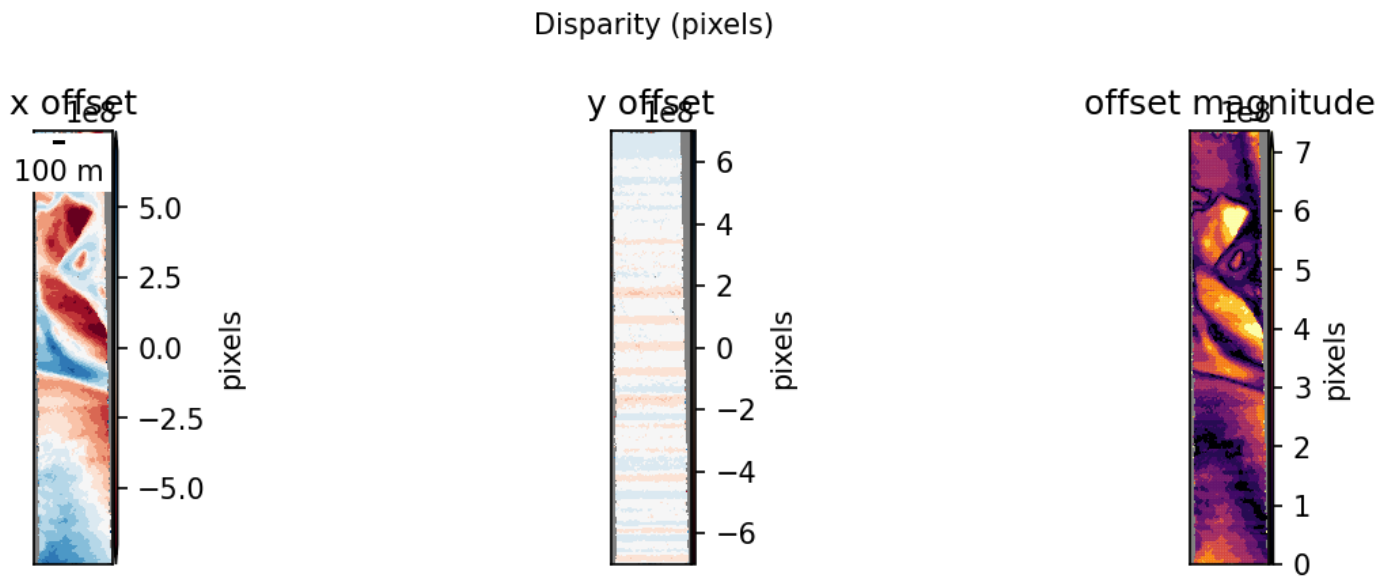

Figure 5: Horizontal and vertical disparity maps in pixels with quiver overlay.

Processing Parameters

Runtime Summary

Step	Runtime
Bundle Adjust	N/A
Stereo	0 hours and 2 minutes
point2dem	0 hours and 0 minutes

Bundle Adjust Command:

```
Bundle adjustment not run
```

Stereo Command:

```
stereo --alignment-method affineepipolar E0201461.cub M0100115.cub results/output --corr-seed-mode 1 --stereo-file
stereo.default.example --sgm-collar-size 0 --compute-point-cloud-center-only --threads 8
```

point2dem Command:

```
point2dem --auto-proj-center results/output-PC.tif
```