MOC-NA

Processed on: 2025-10-31 11:54:20

ASP version: 3.6.0-alpha

asp_plot version: 1.8.0

DEM Summary

Property	Value
DEM File	output-DEM.tif
Dimensions (px)	1236 x 6576
GSD (m)	6.95
CRS	EPSG:None
Nodata (%)	70.0
Elevation Range (m)	3648.9 to 6104.1

Input Scenes



Figure 1: Left and right input scenes used for stereo processing. Non-mapprojected scenes are shown after ASP's alignment step (e.g., affineepipolar), which rotates images to create horizontal epipolar lines for correlation. Mapprojected scenes require no pre-alignment and are displayed in their map-projected orientation.

Match Points



Figure 2: Interest point matches between left and right images identified during stereo correlation.

Detailed Hillshade

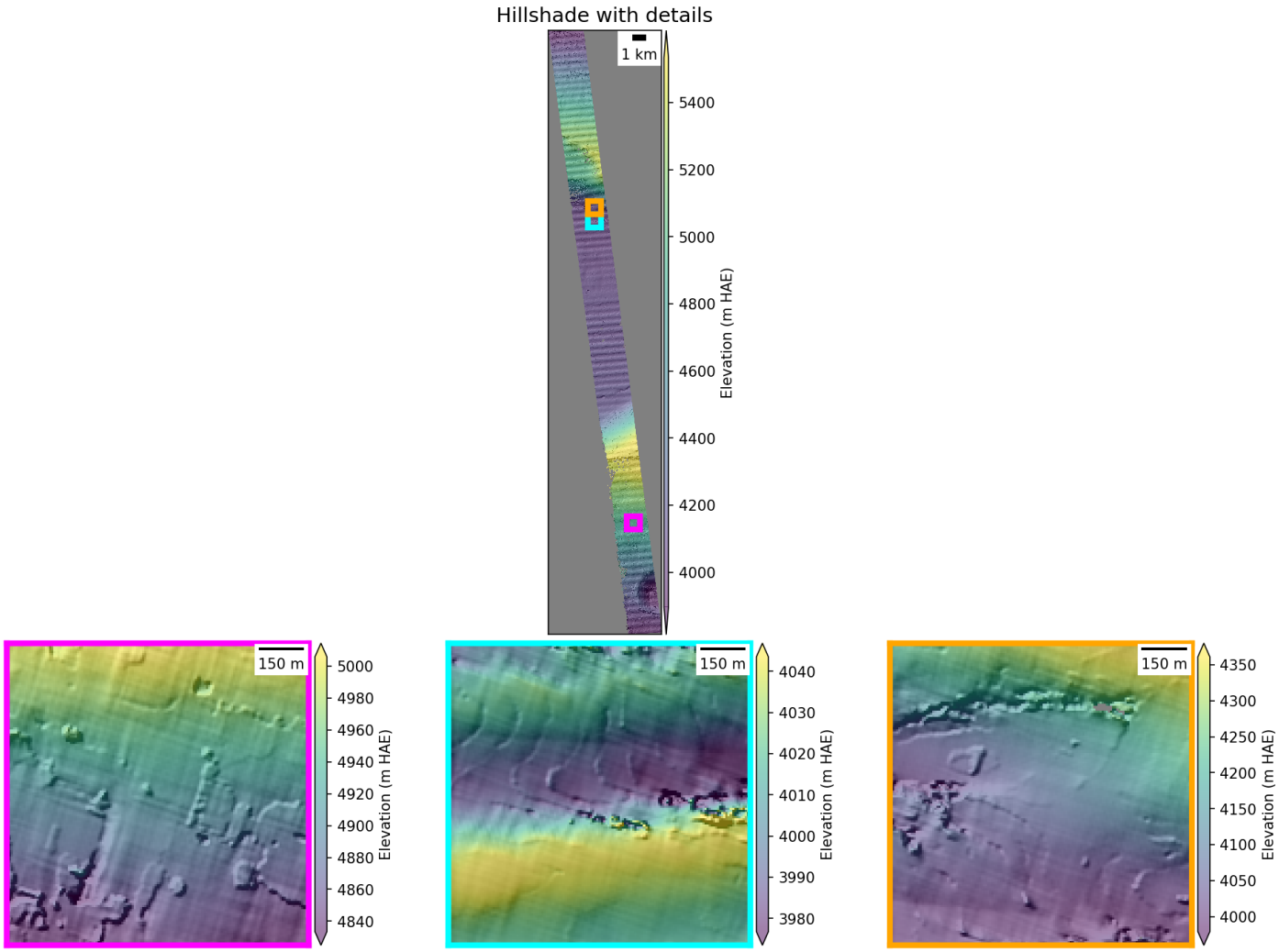

Figure 3: DEM hillshade with 1.0 km detail subset in second row. If available, corresponding mapprojected ortho image subsets are displayed in the bottom row.

DEM Results

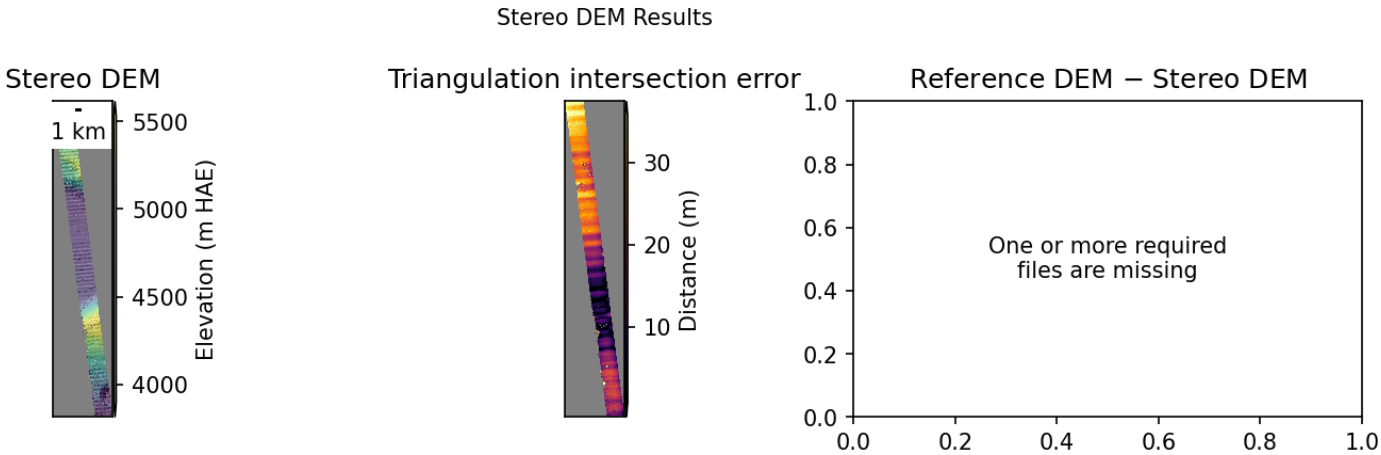

Figure 4: Output DEM with intersection error map and difference relative to the reference DEM used in processing.

Disparity

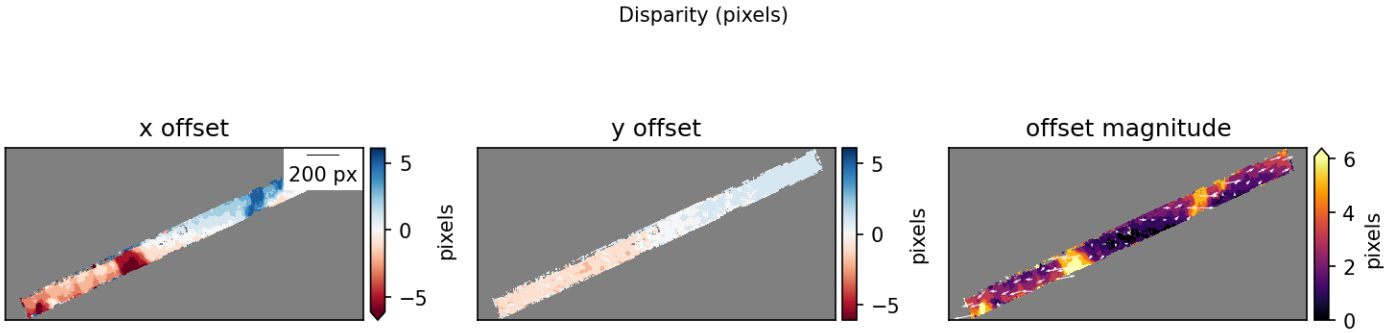

Figure 5: Horizontal and vertical disparity maps in pixels with quiver overlay.

Processing Parameters

Runtime Summary

Step	Runtime
Bundle Adjust	N/A
Stereo	0 hours and 2 minutes
point2dem	0 hours and 0 minutes

Bundle Adjust Command:

```
Bundle adjustment not run
```

Stereo Command:

```
stereo M0806047.map.cub R0701361.map.cub result/output --corr-seed-mode 1 --sgm-collar-size 0 --compute-point-cloud-center-only --threads 8
```

point2dem Command:

```
point2dem -r mars --stereographic --auto-proj-center result/output-PC.tif --errorimage result/output-PC.tif
```

Report Generation Command:

```
asp_plot --directory /Users/ben/Dropbox/UW_Shean/asp_plot-test_data/docs_examples/docs_sect_8_4_mars_MOC_NA/ --stereo_directory result/ --add_basemap False --plot_icesat False --plot_geometry False --report_filename MOC_NA-asp-plot-report.pdf --report_title MOC-NA
```